Stockholm University
Department of Meteorology

Your Presentation Title

Your Name

Course Name (Course Number)

March 8, 2026

Introduction

Here is some text

-

Figure: A map of the Arctic.

Annual Means

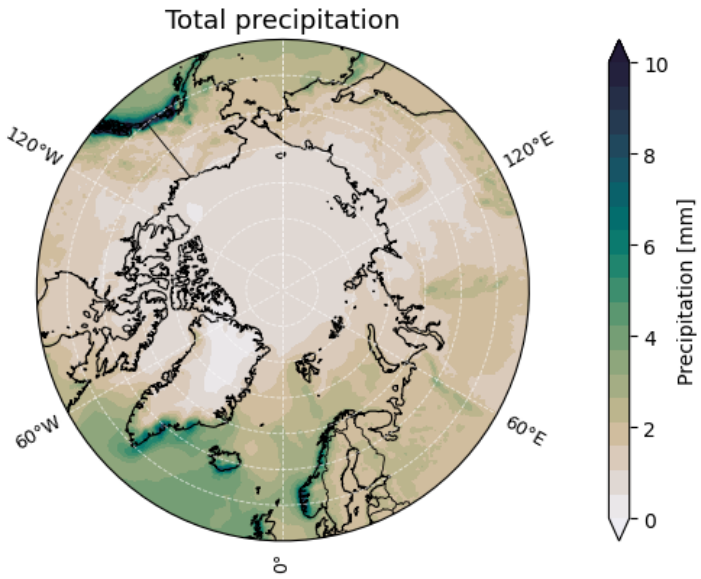

(a) Total Monthly Precipitation

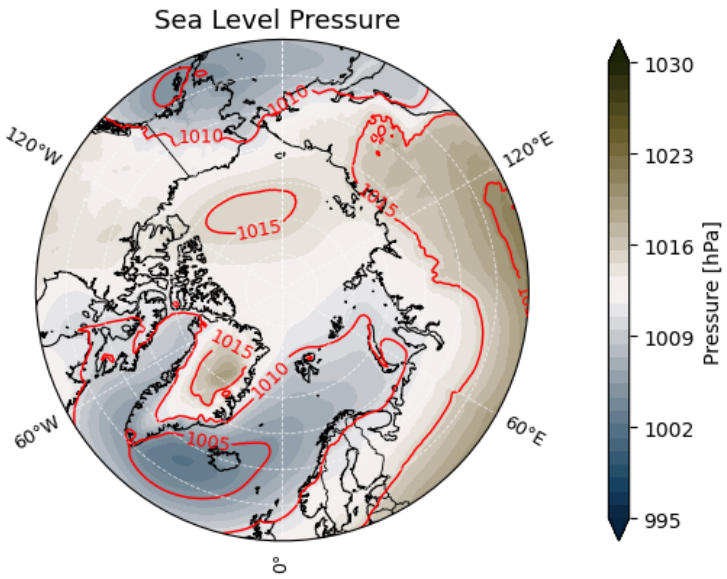

(b) Sea Level Pressure

Figure: Annual mean sea level pressure (hPa) and total monthly precipitation (2012–2021 annual mean).

Monthly Means

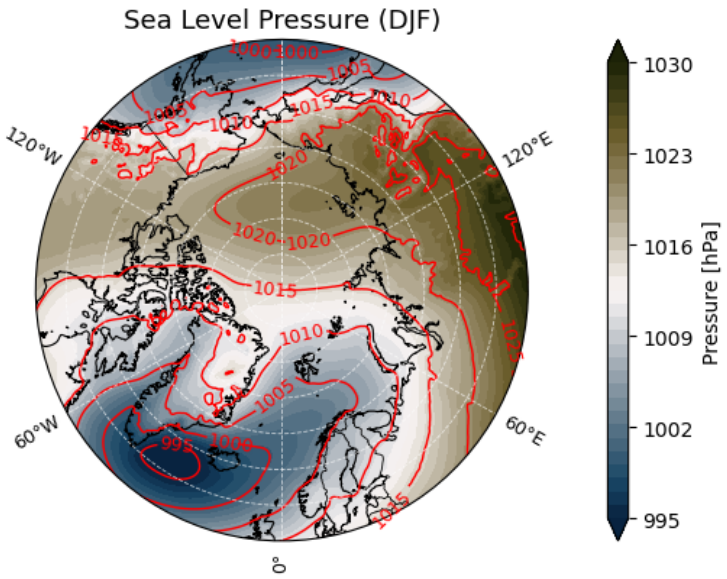

(a) Sea Level Pressure

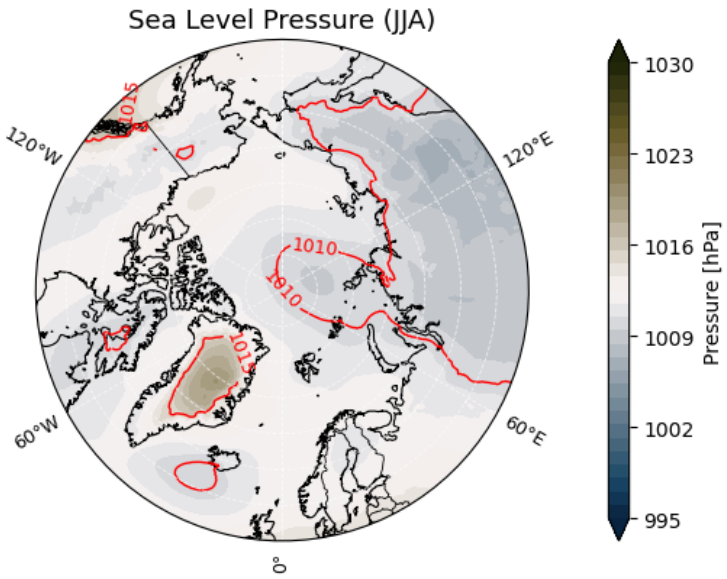

(b) Sea Level Pressure

Figure: Monthly mean sea level pressure (hPa) (2012–2021 annual mean).

Winter conditions

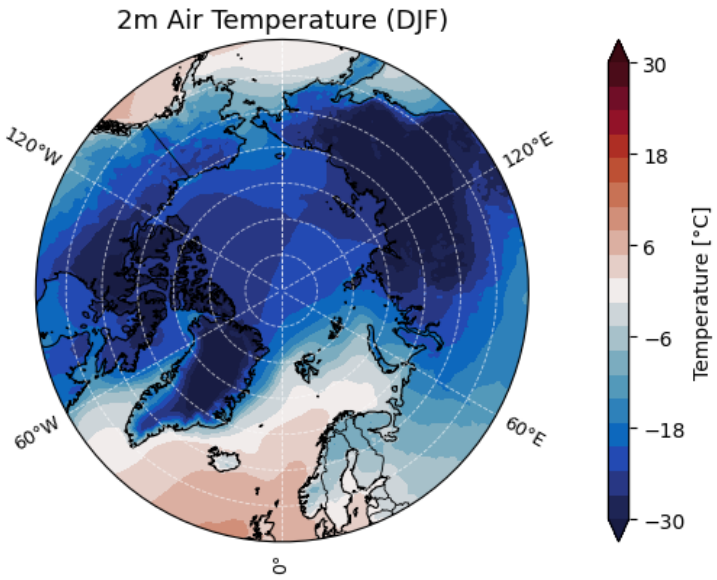

(a) Temperature

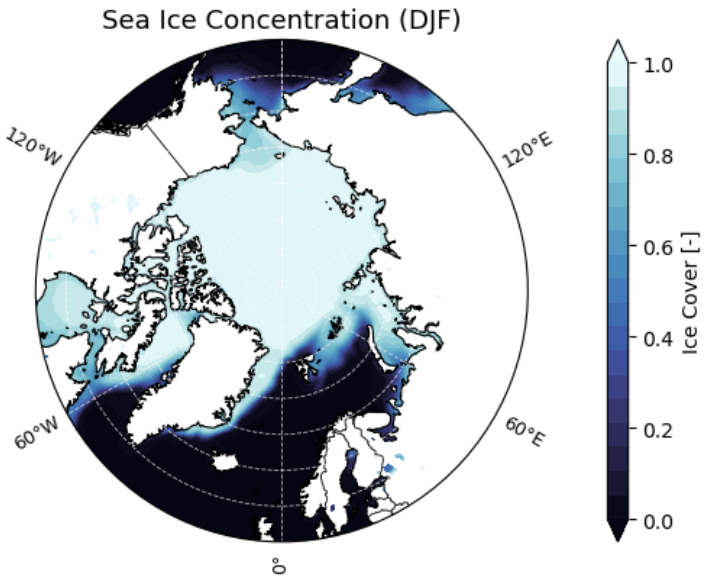

(b) Sea Ice

Spring conditions

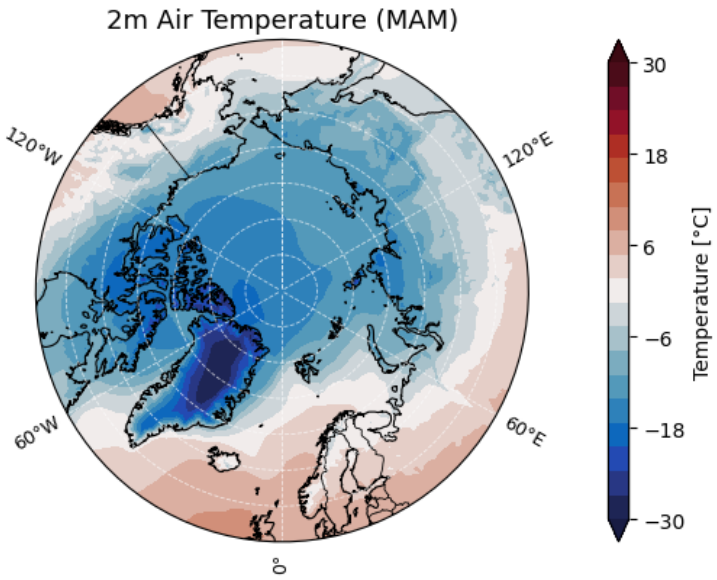

(a) Temperature

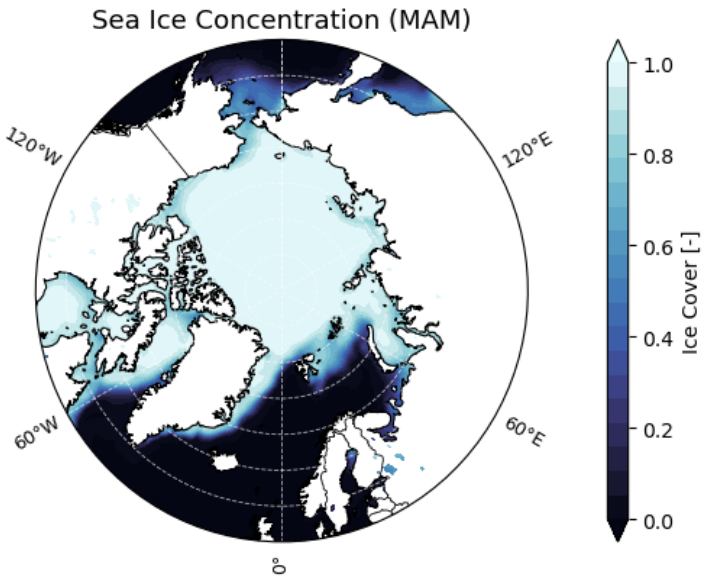

(b) Sea Ice

Summer conditions

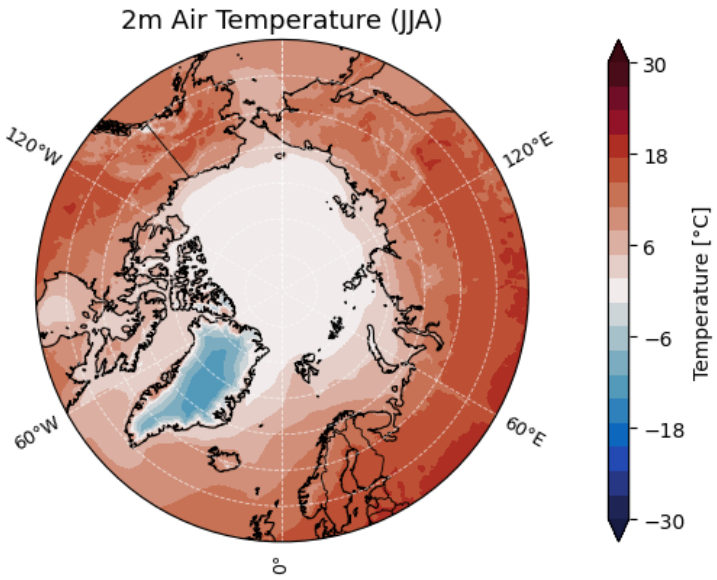

(a) Temperature

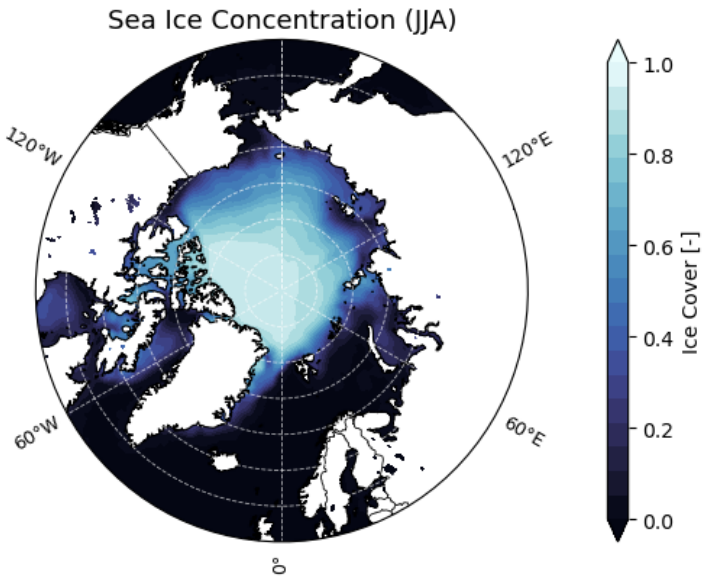

(b) Sea Ice

Autumn conditions

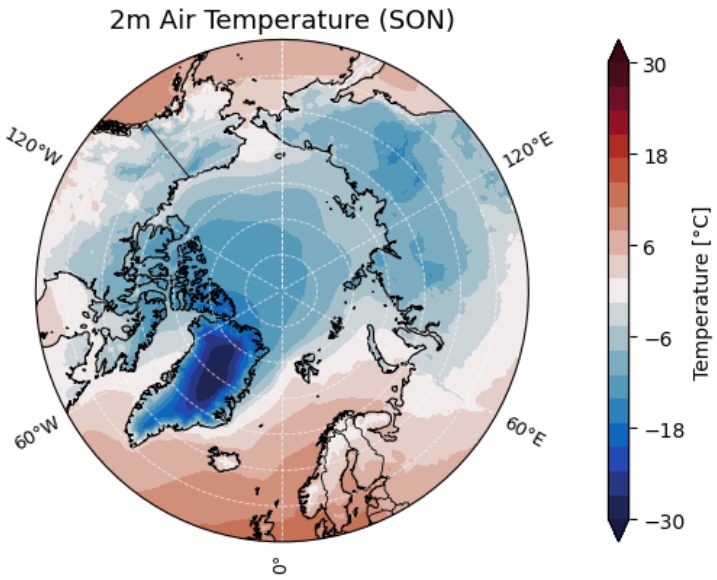

(a) Temperature

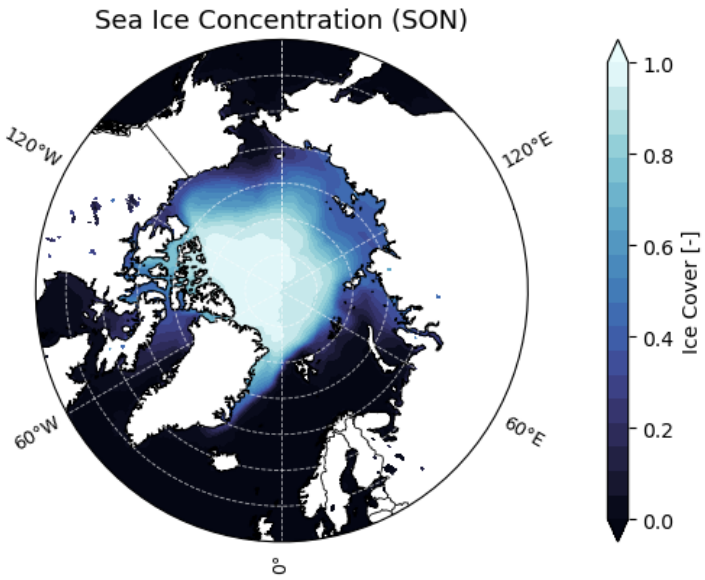

(b) Sea Ice

The Ocean

left Here is some text about the ocean:

- The ocean covers more than 70% of the Earth's surface.
- It plays a crucial role in regulating the climate.
- The ocean is home to a vast array of marine life.

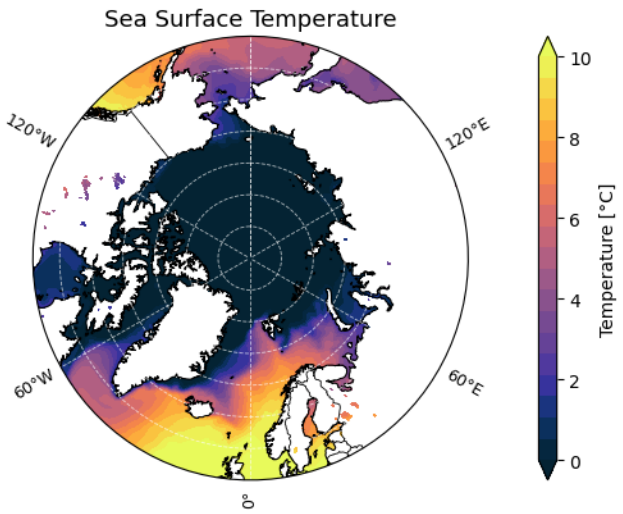

Figure: Sea Surface Temperature (2012–2021)

Introduction

The regional climate

The general circulation

Climate Change

Societal activities

References

Climate Change

Your content here [Serreze and Barry, 2014]

Societal activities

Your content here [Serreze and Barry, 2014]

References

Mark C. Serreze and Roger G. Barry. *The Arctic climate system*. Cambridge atmospheric and space science series. Cambridge University Press, New York, NY, USA, second edition edition, 2014. ISBN 978-1-107-03717-5.